Planning and Development Department
2101 O'Neil Avenue, Suite 202, Cheyenne WY 82001
(Phone) 307-637-6282 (Fax) 307-637-6366

A COMMUNITY OF CHOICE

MEMO

To: Honorable Mayor Patrick Collins and Members of the City Council

From: Seth Lloyd, Planner

Subject: UDC-22-00025 – Olivet Cemetery, 4th Filing Final Plat

Date: March 22, 2022

Update:
The final plat for Olivet Cemetery, 4th Filing required technical corrections (as mentioned in the Staff Report). A revised map has been submitted addressing all the technical corrections requested. This is proposed to be submitted via substitute.

Staff recommends approval of the substitute map.

Attachments:

1. Revised Final Plat Map

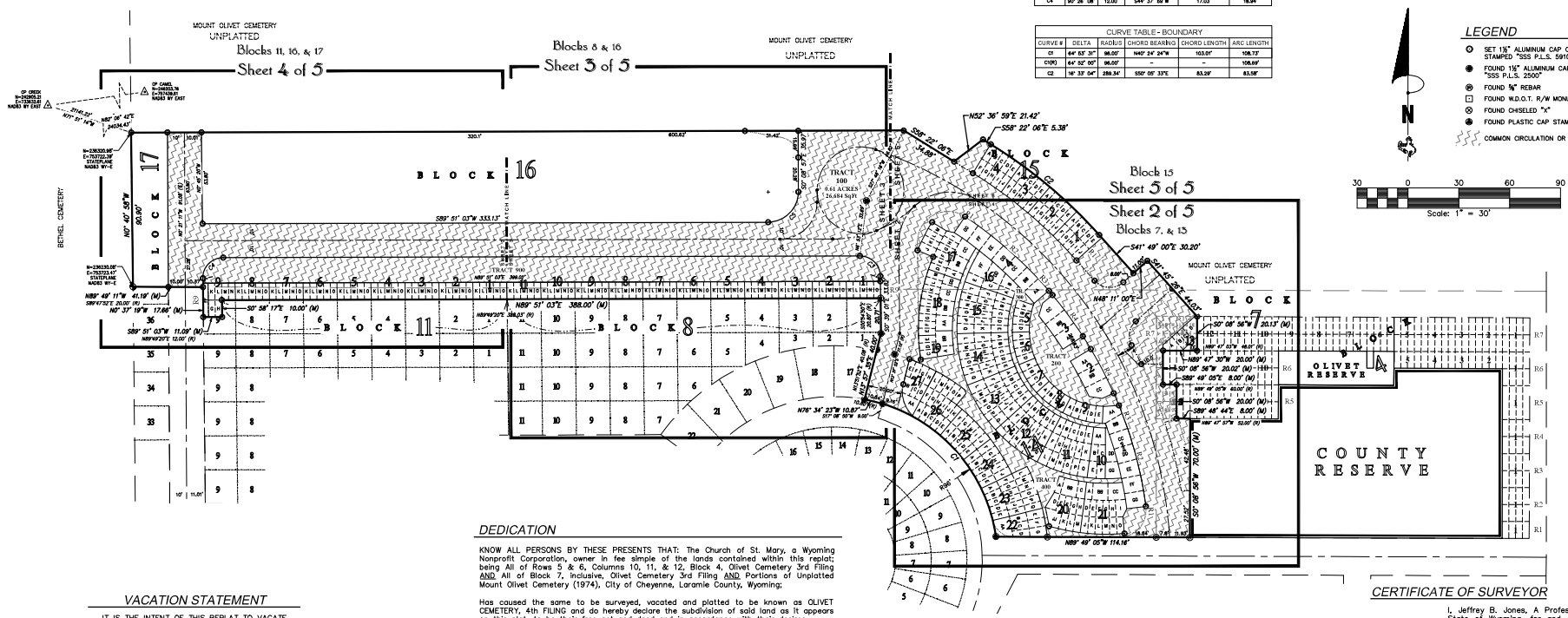

CURVE TABLE - BLOCK 16					
CURVE #	DELTA	RADIUS	CHORD BEARING	CHORD LENGTH	ARC LENGTH
C5	89° 59' 59"	17.83'	S44° 51' 03"W	25.22'	28.01'

CURVE TABLE - BLOCKS 8 & 11					
CURVE #	DELTA	RADIUS	CHORD BEARING	CHORD LENGTH	ARC LENGTH
C3	89° 29' 56"	12.00'	N45° 23' 59"W	16.90'	18.74'
C4	90° 26' 08"	12.00'	S44° 37' 59"W	17.03'	18.94'

CURVE TABLE - BOUNDARY					
CURVE #	DELTA	RADIUS	CHORD BEARING	CHORD LENGTH	ARC LENGTH
C1	64° 53' 31"	98.00'	N40° 24' 24"W	103.01'	108.73'
C1(R)	64° 52' 00"	98.00'	-	-	108.69'
C2	16° 33' 04"	289.34'	S50° 05' 33"E	83.29'	83.58'

LEGEND

- SET 1½" ALUMINUM CAP ON ⅝"x24" REBAR STAMPED "SSS P.L.S. 5910"
- FOUND 1½" ALUMINUM CAP STAMPED "SSS P.L.S. 2500"
- FOUND ⅝" REBAR
- FOUND W.D.O.T. R/W MONUMENT
- FOUND CHISELED "X"
- FOUND PLASTIC CAP STAMPED "LS 347"
- COMMON CIRCULATION OR OPEN SPACE TRACT

30 0 30 60 90
Scale: 1" = 30'

VACATION STATEMENT

IT IS THE INTENT OF THIS REPLAT TO VACATE

ALL OF ROWS 5 & 6, COLUMNS 10, 11, & 12, BLOCK 4, OLIVET CEMETERY 3rd FILING AND

ALL OF BLOCK 7, INCLUSIVE, OLIVET CEMETERY 3rd FILING CITY OF CHEYENNE, LARAMIE COUNTY, WYOMING

INCLUDING ALL LOT LINES AND EASEMENTS OF RECORD UNLESS NOTED OTHERWISE.

DEDICATION

KNOW ALL PERSONS BY THESE PRESENTS THAT: The Church of St. Mary, a Wyoming Nonprofit Corporation, owner in fee simple of the lands contained within this replat; being All of Rows 5 & 6, Columns 10, 11, & 12, Block 4, Olivet Cemetery 3rd Filing AND All of Block 7, Inclusive, Olivet Cemetery 3rd Filing AND Portions of Unplatted Mount Olivet Cemetery (1974), City of Cheyenne, Laramie County, Wyoming;

Has caused the same to be surveyed, vacated and platted to be known as OLIVET CEMETERY, 4th FILING and do hereby declare the subdivision of said land as it appears on this plat, to be their free act and deed and in accordance with their desires.

August Koeune as Registered Agent for Church of St. Mary

ACKNOWLEDGEMENT

STATE OF WYOMING)
) SS
COUNTY OF LARAMIE)

The foregoing instrument was acknowledged before me this ____ day of _____, 2022 by August Koeune as Registered Agent for Church of St. Mary.

Notary Public, Laramie County, Wyoming

My Commission Expires: _____

VICINITY MAP

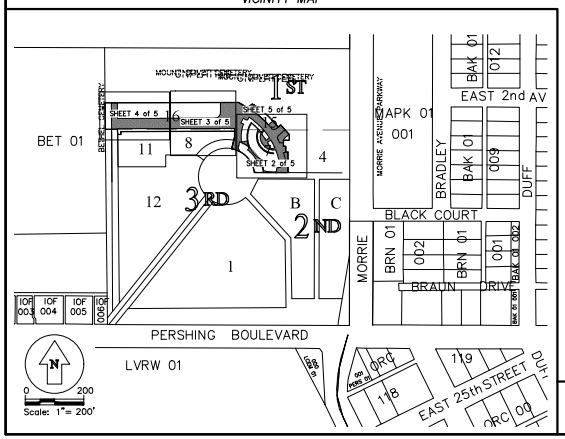

GENERAL NOTES

1. BASIS OF BEARINGS – WYOMING STATE PLANE COORDINATES, EAST ZONE, NAD83–2011, US SURVEY FEET, DISTANCES ARE GRID DISTANCES.
   SITE COMBINATION FACTOR = 0.999658922
2. ALL UNMONUMENTED LOT CORNERS, ANGLE POINTS, AND POINTS OF CURVATURE TO BE MONUMENTED WITH 1½" ALUMINUM CAP STAMPED "SSS P.L.S. 5910" ON ⅝"x24" REBAR.
3. NO PORTION OF THE PROPOSED SUBDIVISION FALLS WITHIN A FEMA 100–YEAR SPECIAL FLOOD HAZARD AREA PER F.I.R.M PANEL No.56021C1093F, DATED JANUARY 17, 2007.
4. THE PURPOSE OF THIS PLAT IS TO RECONFIGURE THE CEMETERY PLOTS (LOTS) TO CORRESPOND TO CONSTRUCTED COLUMBARIUM(S), CIRCULATION DRIVES, AND FUTURE PLOT CONFIGURATION(S); THE PLAT VACATES 463 EXISTING CEMETERY PLOTS (LOTS) AND CREATES 423 NEW LOTS AS FOLLOWS: 412 CEMETERY PLOTS, 1 TRACT FOR CIRCULATION/PARKING (TRACT 100), 4 BUFFER/RESERVE TRACTS (TRACTS 500, 600, 700, 800), 4 OPEN SPACE TRACTS (TRACTS 200, 300, 400, 900), AND 2 UNDIVIDED BLOCKS FOR FUTURE INFILL (BLOCKS 15 & 16).

APPROVALS

Approved by the City of Cheyenne Planning Commission this ____ day of _____, 2022.

Planning & Development Director, City of Cheyenne, Wyoming

Approved by the Council of the City of Cheyenne, Wyoming this ____ day of _____, 2022.

Mayor *ATTEST:* *City Clerk*

FILING RECORD

CERTIFICATE OF SURVEYOR

I, Jeffrey B. Jones, A Professional Land Surveyor in the State of Wyoming, for and on behalf of Steil Surveying Services, LLC, hereby state, to the best of my knowledge, information and belief, that this map was prepared from field notes taken during an actual survey made by me or under my direct supervision; and that this map correctly shows the results of said survey and that the monuments found or set are as shown.

Olivet Cemetery 4th Filing

Sheet 1 of 5

AN SUBDIVISION OF
A PORTION OF UNPLATTED MOUNT OLIVET CEMETERY AND
A REPLAT OF
ALL OF R1/C13, R2/C13, R3/C13, & R4/C13; BLOCK 4, AND LOTS A & E, R7/C12, BLOCK 4, OLIVET CEMETERY 3rd FILING AND
ALL OF LOTS A, B, C, H, G, & F, R5/C13, BLOCK 4, AND LOTS A & F, R6/C13, BLOCK 4, OLIVET CEMETERY 3rd FILING AND
ALL OF R7/C13, BLOCK 4, OLIVET CEMETERY 3rd FILING AND
ALL OF BLOCK 7, INCLUSIVE, OLIVET CEMETERY; 3rd FILING
SITUATED IN THE NE ¼ OF SECTION 12, TOWNSHIP 13 NORTH, RANGE 67 WEST OF THE 6th P.M.
CITY OF CHEYENNE, LARAMIE COUNTY, WYOMING

PREPARED MAY 2019

STEIL SURVEYING SERVICES, LLC
PROFESSIONAL LAND SURVEYORS
PLANNING & DEVELOPMENT SPECIALISTS
1102 WEST 19th ST. CHEYENNE, WY. 82001 ◦ (307) 634-7273
756 GILCHRIST ST. WHEATLAND, WY. 82201 ◦ (307) 322-9789
www.SteilSurvey.com ◦ info@SteilSurvey.com

REVISED: 2/29/2022

\Users\trout\Documents\~PalimpsestDC\PLPWY\PROJECTS\~Steil\19086 OLIVET REPLAT\19086 Olivet4th_Rev2-2022.dwg

© COPYRIGHT 2020 STEIL SURVEYING SERVICES, LLC ALL RIGHTS RESERVED

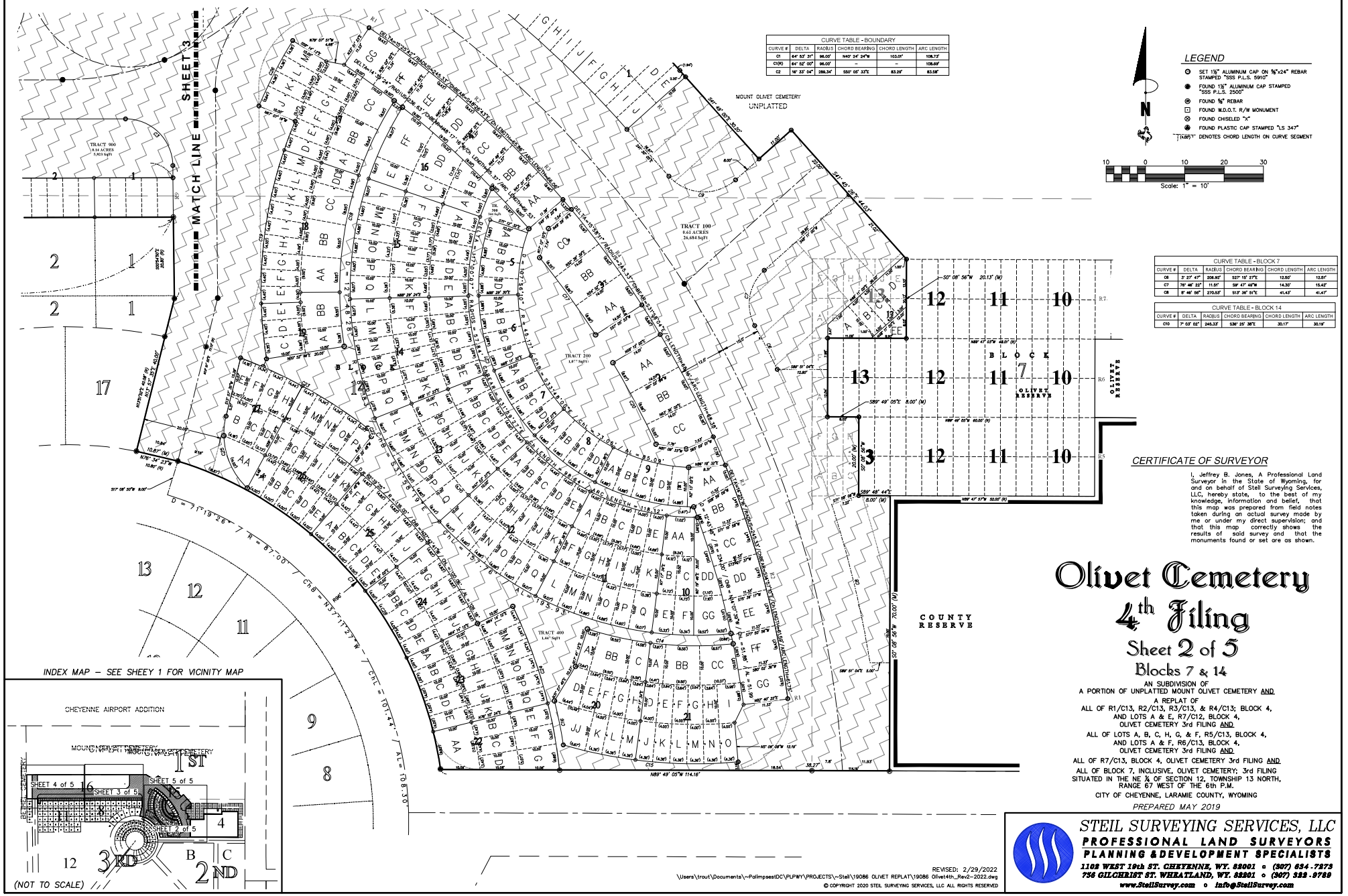

CURVE TABLE - BOUNDARY					
CURVE #	DELTA	RADIUS	CHORD BEARING	CHORD LENGTH	ARC LENGTH
C1	64° 53' 31"	96.00'	N40° 24' 24"W	103.05'	108.73'
C1(R)	64° 52' 00"	96.00'	–	–	108.69'
C2	16° 33' 04"	289.34'	S50° 05' 33"E	83.29'	83.58'

LEGEND

- SET 1½" ALUMINUM CAP ON ⅝"x24" REBAR STAMPED "SSS P.L.S. 5910"
- FOUND 1½" ALUMINUM CAP STAMPED "SSS P.L.S. 2500"
- FOUND ⅝" REBAR
- FOUND W.D.O.T. R/W MONUMENT
- FOUND CHISELED "X"
- FOUND PLASTIC CAP STAMPED "LS 347"
- (4.00') DENOTES CHORD LENGTH ON CURVE SEGMENT

N

10 0 10 20 30

Scale: 1" = 10'

CURVE TABLE - BLOCK 7					
CURVE #	DELTA	RADIUS	CHORD BEARING	CHORD LENGTH	ARC LENGTH
C6	3° 27' 47"	206.92'	S27° 15' 27"E	12.50'	12.51'
C7	76° 46' 22"	11.91'	S9° 47' 49"W	14.30'	15.42'
C8	8° 46' 50"	270.53'	S13° 36' 51"E	41.43'	41.47'

CURVE TABLE - BLOCK 14					
CURVE #	DELTA	RADIUS	CHORD BEARING	CHORD LENGTH	ARC LENGTH
C10	7° 03' 02"	245.33'	S36° 25' 38"E	30.17'	30.19'

CERTIFICATE OF SURVEYOR

I, Jeffrey B. Jones, A Professional Land Surveyor in the State of Wyoming, for and on behalf of Steil Surveying Services, LLC, hereby state, to the best of my knowledge, information and belief, that this map was prepared from field notes taken during an actual survey made by me or under my direct supervision; and that this map correctly shows the results of said survey and that the monuments found or set are as shown.

Olivet Cemetery 4th Filing

Sheet 2 of 5

Blocks 7 & 14

AN SUBDIVISION OF
A PORTION OF UNPLATTED MOUNT OLIVET CEMETERY AND

A REPLAT OF
ALL OF R1/C13, R2/C13, R3/C13, & R4/C13; BLOCK 4,
AND LOTS A & E, R7/C12, BLOCK 4,
OLIVET CEMETERY 3rd FILING AND

ALL OF LOTS A, B, C, H, G, & F, R5/C13, BLOCK 4,
AND LOTS A & F, R6/C13, BLOCK 4,
OLIVET CEMETERY 3rd FILING AND

ALL OF R7/C13, BLOCK 4, OLIVET CEMETERY 3rd FILING AND

ALL OF BLOCK 7, INCLUSIVE, OLIVET CEMETERY; 3rd FILING
SITUATED IN THE NE ¼ OF SECTION 12, TOWNSHIP 13 NORTH,
RANGE 67 WEST OF THE 6th P.M.
CITY OF CHEYENNE, LARAMIE COUNTY, WYOMING

PREPARED MAY 2019

STEIL SURVEYING SERVICES, LLC
PROFESSIONAL LAND SURVEYORS
PLANNING & DEVELOPMENT SPECIALISTS
1102 WEST 19th ST. CHEYENNE, WY. 82001 ▫ (307) 634-7273
756 GILCHRIST ST. WHEATLAND, WY. 82201 ▫ (307) 322-9789
www.SteilSurvey.com ▫ info@SteilSurvey.com

REVISED: 2/29/2022
\Users\trout\Documents\~PalimpsestDC\PLPWY\PROJECTS\~Steil\19086 OLIVET REPLAT\19086 Olivet4th_Rev2-2022.dwg

© COPYRIGHT 2020 STEIL SURVEYING SERVICES, LLC ALL RIGHTS RESERVED

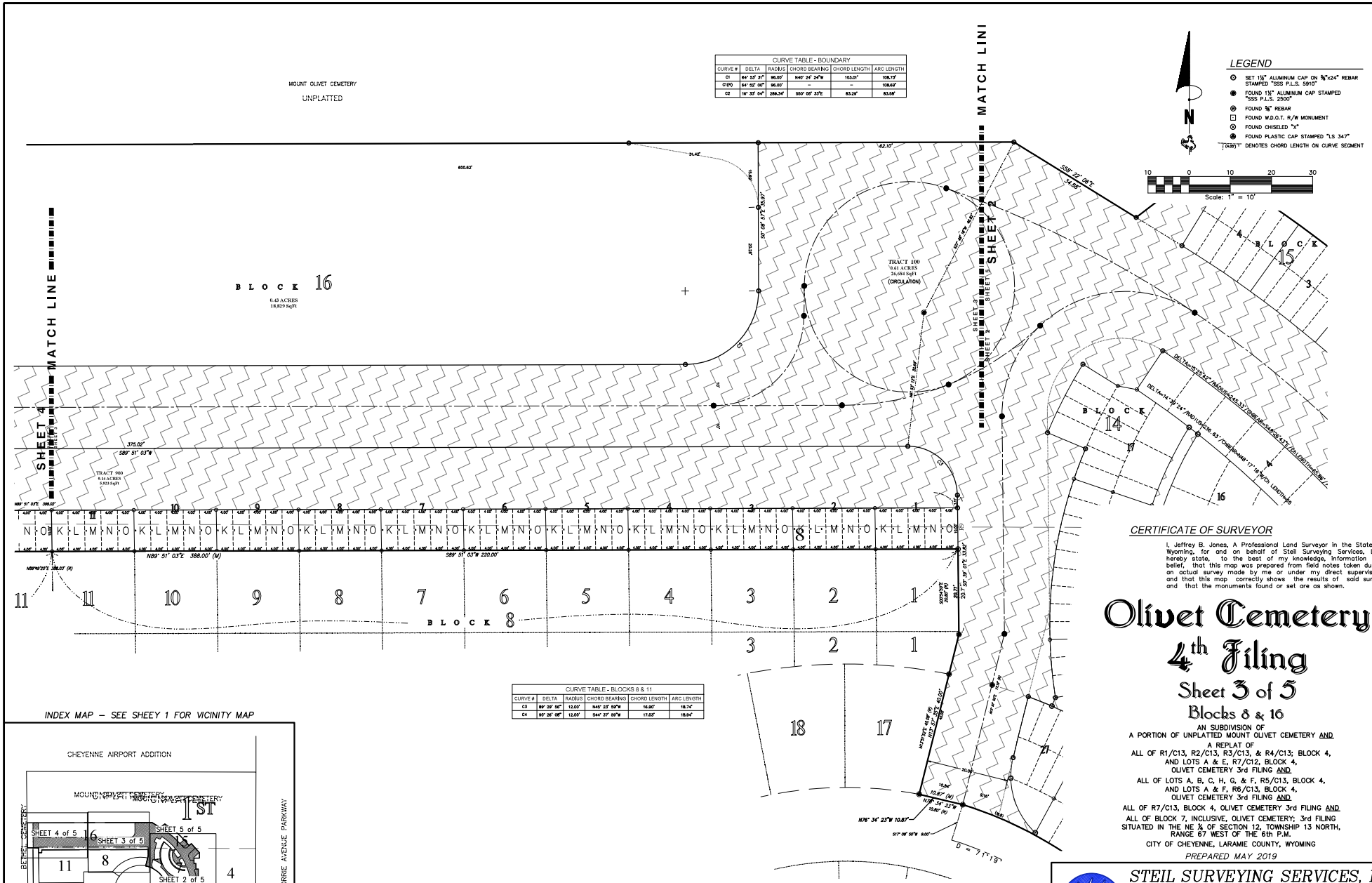

CURVE TABLE - BOUNDARY					
CURVE #	DELTA	RADIUS	CHORD BEARING	CHORD LENGTH	ARC LENGTH
C1	64° 53' 31"	96.00'	N40° 24' 34"W	103.01'	108.73'
C1(R)	64° 53' 00"	96.00'	-	-	108.69'
C2	16° 33' 04"	289.34'	S50° 06' 33"E	83.26'	83.58'

CURVE TABLE - BLOCKS 8 & 11					
CURVE #	DELTA	RADIUS	CHORD BEARING	CHORD LENGTH	ARC LENGTH
C3	89° 39' 58"	12.00'	N45° 23' 59"W	16.90'	18.78'
C4	90° 26' 08"	12.00'	S44° 37' 59"W	17.05'	18.94'

INDEX MAP – SEE SHEEY 1 FOR VICINITY MAP

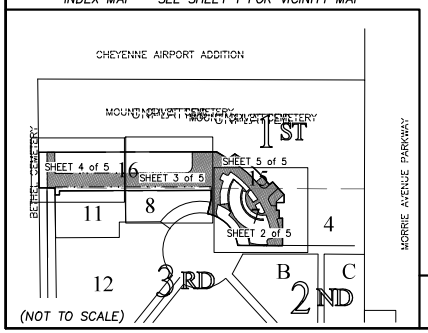

FILING RECORD

CERTIFICATE OF SURVEYOR

I, Jeffrey B. Jones, A Professional Land Surveyor in the State of Wyoming, for and on behalf of Steil Surveying Services, LLC, hereby state, to the best of my knowledge, information and belief, that this map was prepared from field notes taken during an actual survey made by me or under my direct supervision; and that this map correctly shows the results of said survey and that the monuments found or set are as shown.

Olivet Cemetery 4th Filing

Sheet 3 of 5

Blocks 8 & 16

AN SUBDIVISION OF
A PORTION OF UNPLATTED MOUNT OLIVET CEMETERY AND
A REPLAT OF
ALL OF R1/C13, R2/C13, R3/C13, & R4/C13; BLOCK 4,
AND LOTS A & E, R7/C12, BLOCK 4,
OLIVET CEMETERY 3rd FILING AND
ALL OF LOTS A, B, C, H, G, & F, R5/C13, BLOCK 4,
AND LOTS A & F, R6/C13, BLOCK 4,
OLIVET CEMETERY 3rd FILING AND
ALL OF R7/C13, BLOCK 4, OLIVET CEMETERY 3rd FILING AND
ALL OF BLOCK 7, INCLUSIVE, OLIVET CEMETERY; 3rd FILING
SITUATED IN THE NE ¼ OF SECTION 12, TOWNSHIP 13 NORTH,
RANGE 67 WEST OF THE 6th P.M.
CITY OF CHEYENNE, LARAMIE COUNTY, WYOMING

PREPARED MAY 2019

STEIL SURVEYING SERVICES, LLC
PROFESSIONAL LAND SURVEYORS
PLANNING & DEVELOPMENT SPECIALISTS
1102 WEST 19th ST. CHEYENNE, WY. 82001 ◦ (307) 634-7273
756 GILCHRIST ST. WHEATLAND, WY. 82201 ◦ (307) 322-9789
www.SteilSurvey.com ◦ info@SteilSurvey.com

REVISED: 2/29/2022
\Users\trout\Documents\~Palimpsest\DC\PLPWY\PROJECTS\~Steil\19086 OLIVET REPLAT\19086 Olivet4th_Rev2-2022.dwg

© COPYRIGHT 2020 STEIL SURVEYING SERVICES, LLC ALL RIGHTS RESERVED

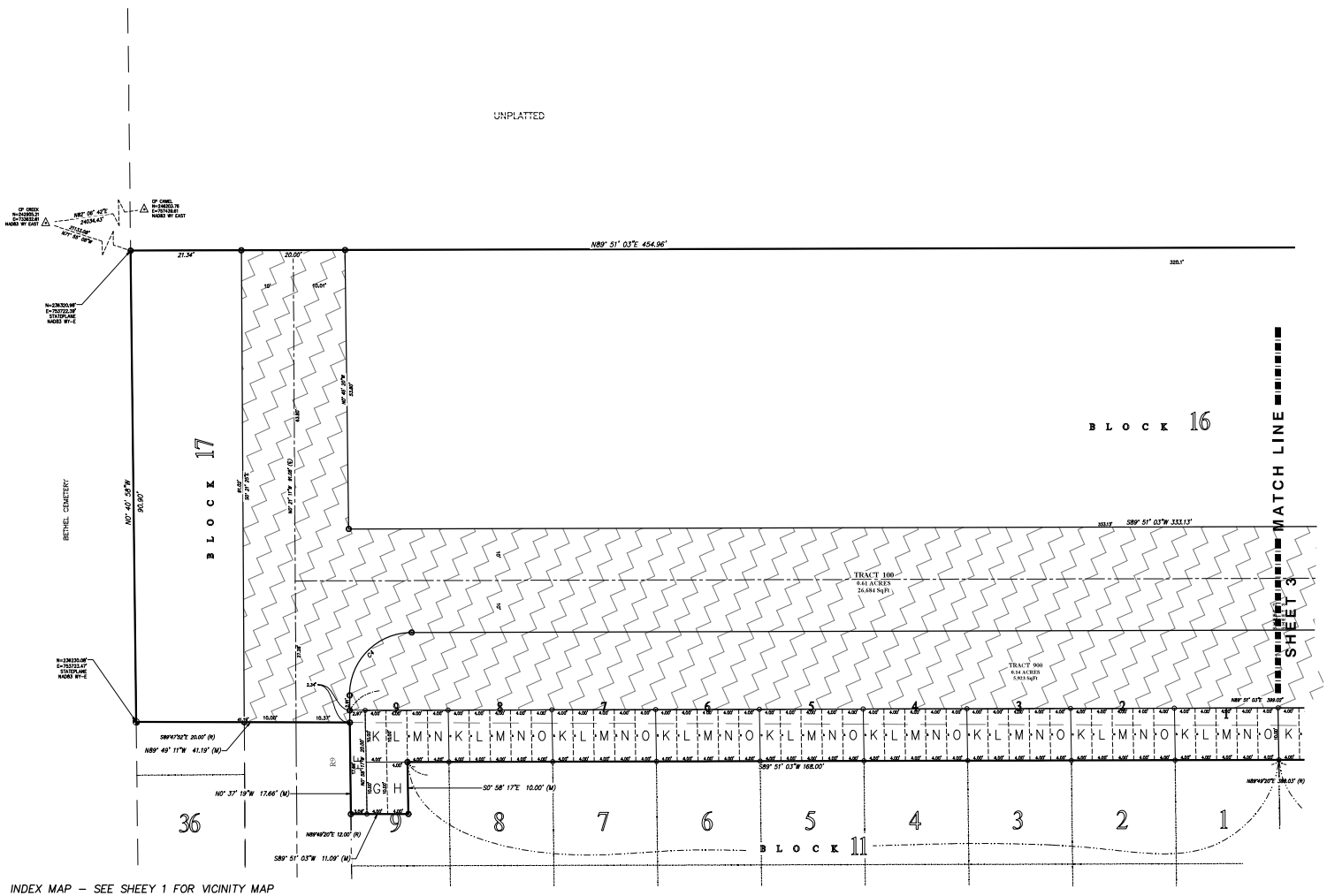

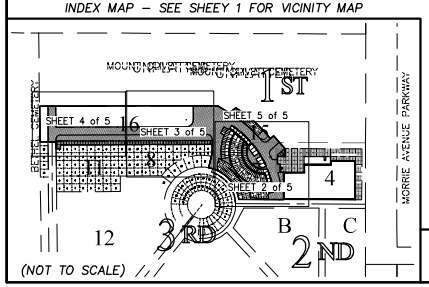

FILING RECORD

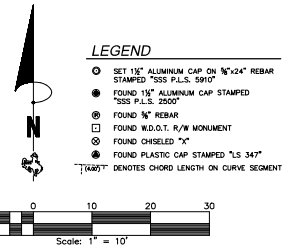

CURVE TABLE - BLOCKS 8 & 11					
CURVE #	DELTA	RADIUS	CHORD BEARING	CHORD LENGTH	ARC LENGTH
C3	89° 29' 56"	12.00'	N45° 23' 59"W	16.90'	18.74'
C4	90° 26' 08"	12.00'	S44° 37' 59"W	17.05'	18.94'

CERTIFICATE OF SURVEYOR

I, Jeffrey B. Jones, A Professional Land Surveyor in the State of Wyoming, for and on behalf of Steil Surveying Services, LLC, hereby state, to the best of my knowledge, information and belief, that this map was prepared from field notes taken during an actual survey made by me or under my direct supervision; and that this map correctly shows the results of said survey and that the monuments found or set are as shown.

Olivet Cemetery
4th Filing
Sheet 4 of 5
Blocks 11, 16 & 17

AN SUBDIVISION OF
A PORTION OF UNPLATTED MOUNT OLIVET CEMETERY AND
A REPLAT OF
ALL OF R1/C13, R2/C13, R3/C13, & R4/C13; BLOCK 4,
AND LOTS A & E, R7/C12, BLOCK 4,
OLIVET CEMETERY 3rd FILING AND
ALL OF LOTS A, B, C, H, G, & F, R5/C13, BLOCK 4,
AND LOTS A & F, R6/C13, BLOCK 4,
OLIVET CEMETERY 3rd FILING AND
ALL OF R7/C13, BLOCK 4, OLIVET CEMETERY 3rd FILING AND
ALL OF BLOCK 7, INCLUSIVE, OLIVET CEMETERY; 3rd FILING
SITUATED IN THE NE ¼ OF SECTION 12, TOWNSHIP 13 NORTH,
RANGE 67 WEST OF THE 6th P.M.
CITY OF CHEYENNE, LARAMIE COUNTY, WYOMING

PREPARED MAY 2019

STEIL SURVEYING SERVICES, LLC
PROFESSIONAL LAND SURVEYORS
PLANNING & DEVELOPMENT SPECIALISTS
1102 WEST 19th ST. CHEYENNE, WY. 82001 • (307) 634-7273
756 GILCHRIST ST. WHEATLAND, WY. 82201 • (307) 322-9789
www.SteilSurvey.com • info@SteilSurvey.com

REVISED: 2/29/2022
\Users\trout\Documents\~Palimpsest DC\PLPWY\PROJECTS\~Steil\19086 OLIVET REPLAT\19086 Olivet4th_Rev2-2022.dwg

© COPYRIGHT 2020 STEIL SURVEYING SERVICES, LLC ALL RIGHTS RESERVED

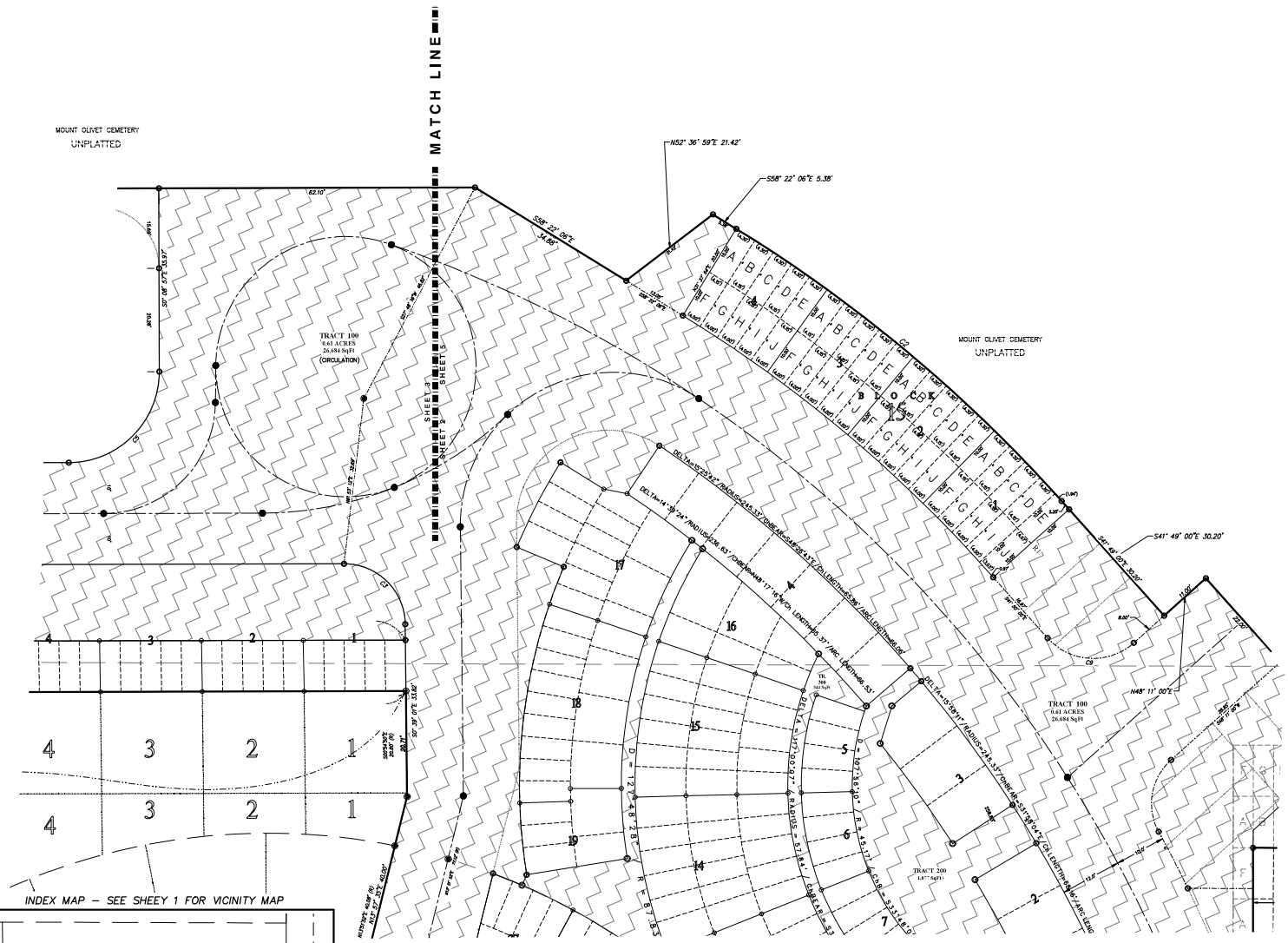

LEGEND

- SET 1½" ALUMINUM CAP ON ⅝"x24" REBAR STAMPED "SSS P.L.S. 5910"
- FOUND 1½" ALUMINUM CAP STAMPED "SSS P.L.S. 2500"
- FOUND ⅝" REBAR
- FOUND W.D.O.T. R/W MONUMENT
- FOUND CHISELED "X"
- FOUND PLASTIC CAP STAMPED "LS 347"
- "(4.00')" DENOTES CHORD LENGTH ON CURVE SEGMENT

10 0 10 20 30
Scale: 1" = 10'

CURVE TABLE - BOUNDARY					
CURVE #	DELTA	RADIUS	CHORD BEARING	CHORD LENGTH	ARC LENGTH
C1	64° 53' 37"	96.00'	N40° 24' 24"W	103.01'	108.73'
C1(R)	64° 53' 00"	96.00'	-	-	108.69'
C2	16° 25' 04"	289.34'	S50° 05' 35"E	83.29'	83.58'

CURVE TABLE - BLOCK 15					
CURVE #	DELTA	RADIUS	CHORD BEARING	CHORD LENGTH	ARC LENGTH
C10	7° 03' 02"	245.33'	S38° 25' 35"E	30.17'	30.19'

CERTIFICATE OF SURVEYOR

I, Jeffrey B. Jones, A Professional Land Surveyor in the State of Wyoming, for and on behalf of Steil Surveying Services, LLC, hereby state, to the best of my knowledge, information and belief, that this map was prepared from field notes taken during an actual survey made by me or under my direct supervision; and that this map correctly shows the results of said survey and that the monuments found or set are as shown.

Olivet Cemetery
4th Filing
Sheet 5 of 5
Block 15

AN SUBDIVISION OF
A PORTION OF UNPLATTED MOUNT OLIVET CEMETERY AND
A REPLAT OF
ALL OF R1/C13, R2/C13, R3/C13, & R4/C13; BLOCK 4,
AND LOTS A & E, R7/C12, BLOCK 4,
OLIVET CEMETERY 3rd FILING AND
ALL OF LOTS A, B, C, H, G, & F, R5/C13, BLOCK 4,
AND LOTS A & F, R6/C13, BLOCK 4,
OLIVET CEMETERY 3rd FILING AND
ALL OF R7/C13, BLOCK 4, OLIVET CEMETERY 3rd FILING AND
ALL OF BLOCK 7, INCLUSIVE, OLIVET CEMETERY; 3rd FILING
SITUATED IN THE NE ¼ OF SECTION 12, TOWNSHIP 13 NORTH,
RANGE 67 WEST OF THE 6th P.M.
CITY OF CHEYENNE, LARAMIE COUNTY, WYOMING

PREPARED MAY 2019

FILING RECORD

REVISED: 2/29/2022
\Users\trout\Documents\~Palimpsest\DC\PLPWY\PROJECTS\~Steil\19086 OLIVET REPLAT\19086 Olivet4th_Rev2-2022.dwg

© COPYRIGHT 2020 STEIL SURVEYING SERVICES, LLC ALL RIGHTS RESERVED

STEIL SURVEYING SERVICES, LLC
PROFESSIONAL LAND SURVEYORS
PLANNING & DEVELOPMENT SPECIALISTS
1102 WEST 19th ST. CHEYENNE, WY. 82001 ◦ (307) 634-7273
756 GILCHRIST ST. WHEATLAND, WY. 82201 ◦ (307) 322-9789
www.SteilSurvey.com ◦ info@SteilSurvey.com